DEPARTMENT OF ADSE

Applied Industrial IoT - CIA3

AGEPATI GREESHMA SAI (2362205)
J K RISHI RAGUL (2362207)
PAUL PRAVIN KALE (2362208)

B. Tech – CSAIML

School of Engineering and Technology,

CHRIST (Deemed to be University),

Kumbalagodu, Bengaluru-560074

Mar 2026

GitHub Repository Link:

https://github.com/Greeshmapraveen/traffic-flow-monitoring-system/upload/main

ABSTRACT

Traffic congestion is a major problem in urban areas, leading to increased travel time, fuel consumption, and environmental pollution. Traditional traffic monitoring systems rely heavily on manual observation or fixed timers for traffic signals, which are inefficient in handling dynamic traffic conditions. These systems often fail to provide real-time insights into traffic density and vehicle flow, resulting in poor traffic management.

To address this issue, an IoT-Based Intelligent Traffic Flow Monitoring and Congestion Prediction System is proposed. The system uses vehicle detection sensors connected to a microcontroller to measure traffic parameters such as vehicle count, speed, and road density. These sensors continuously collect traffic data from intersections or highways.

The collected data is processed by the microcontroller and displayed locally on a monitoring interface. Additionally, the system transmits the traffic data to a cloud platform through internet connectivity. The cloud platform stores the data and provides graphical visualization for remote monitoring and analysis.

By analyzing traffic patterns over time, the system can identify congestion-prone areas and assist in optimizing traffic signal timing. Authorities can monitor traffic conditions remotely and make informed decisions to improve traffic flow.

The proposed system provides a cost-effective and scalable solution for smart traffic management, helping cities reduce congestion, improve road safety, and support the development of smart transportation systems.

1. INTRODUCTION

Rapid urbanization and the increase in the number of vehicles have created serious traffic management challenges in modern cities. Traffic congestion not only increases travel time but also contributes to fuel wastage, environmental pollution, and road accidents. Efficient traffic monitoring and control are therefore essential for maintaining smooth transportation systems.
Traditional traffic monitoring methods rely on manual observation, CCTV surveillance, or fixed-time traffic signal systems. These approaches are often inefficient because they cannot adapt to real-time traffic conditions. As a result, traffic signals may remain green or red for fixed durations even when traffic density varies significantly.

The Internet of Things (IoT) provides a promising solution for intelligent traffic management. IoT enables sensors and devices to communicate through the internet and share real-time data. By integrating sensors, microcontrollers, and cloud platforms, traffic conditions can be monitored continuously and analyzed for better decision-making.

This project proposes an IoT-Based Traffic Flow Monitoring and Congestion Prediction System that uses vehicle detection sensors connected to a microcontroller. These sensors monitor traffic parameters such as vehicle count, speed, and road density.

The microcontroller processes the sensor data and sends it to a cloud platform for storage and analysis. The system enables real-time monitoring of traffic conditions and supports intelligent traffic signal management to reduce congestion.

2. SELECTED RESEARCH PAPER OVERVIEW

Recent research studies focus on developing IoT-based intelligent traffic monitoring systems to improve transportation efficiency and reduce congestion in urban areas.
These systems use various sensors and communication technologies to monitor traffic conditions in real time.

Many research papers propose systems that use sensors such as:
• Infrared vehicle detection sensors
• Ultrasonic sensors
• Camera-based vehicle detection systems
• Speed detection sensors

These sensors continuously monitor vehicle movement and traffic density on roads and intersections. The collected data is transmitted to cloud platforms through wireless communication technologies such as Wi-Fi, GSM, or LoRa.

The cloud platforms store the traffic data and provide visualization dashboards that help authorities analyze traffic patterns and identify congestion areas.

The proposed project uses IoT technology to monitor traffic conditions by collecting vehicle detection data through sensors connected to a microcontroller and transmitting the data to a cloud platform for remote monitoring.

2.1 Objective of the Research Paper

The primary objective of the research is to develop an IoT-based traffic monitoring system capable of collecting real-time traffic data and predicting congestion.

The research focuses on:
• Monitoring vehicle density and traffic flow using sensors
• Collecting traffic data continuously from road intersections
• Transmitting data to a cloud platform for remote monitoring
• Analyzing traffic patterns to detect congestion zones
• Improving traffic signal management using real-time data

The system aims to enhance traffic management efficiency and support smart city transportation infrastructure.

2.2 Methodology Used in the Paper

The research paper presents a methodology that combines sensor technology, microcontrollers, and cloud-based data analytics for traffic monitoring.

Vehicle detection sensors are placed at road intersections or highways to monitor vehicle movement and traffic density. These sensors collect traffic data continuously.

The sensors are connected to a microcontroller that processes the collected data and determines traffic flow patterns.

The processed data is transmitted to a cloud platform through internet connectivity. The cloud platform stores the traffic data and displays it in graphical form for monitoring and analysis.

Authorities can access this data through dashboards to monitor traffic conditions and take necessary actions to manage congestion effectively.

3. REDESIGNED SYSTEM DESCRIPTION

3.1 Objective of the Redesigned System

The redesigned system aims to develop an IoT-based intelligent traffic monitoring system that can monitor traffic conditions in real time and assist in congestion prediction.

Objectives include:
• Detect vehicles using traffic sensors
• Measure traffic density and vehicle flow
• Display traffic information on a local monitoring interface
• Transmit traffic data to a cloud platform for analysis
• Identify congestion-prone areas based on traffic patterns
• Enable remote monitoring of traffic conditions
• Support optimization of traffic signal timing

This system helps traffic authorities make better decisions to improve traffic flow and reduce congestion.

4. HARDWARE

The hardware components used in the IoT-Based Traffic Flow Monitoring System are responsible for detecting vehicles, processing traffic data, and displaying traffic conditions. The system integrates sensors, a microcontroller, and indicator devices to monitor traffic flow effectively.

4.1 ESP32 Microcontroller

The ESP32 microcontroller acts as the central processing unit of the system. It collects data from sensors, processes the information, and controls the output devices such as LEDs.
ESP32 is widely used in IoT applications because it has built-in Wi-Fi and Bluetooth connectivity, which allows the system to transmit data to cloud platforms for remote monitoring.
In this project, the ESP32 receives input from the ultrasonic sensor and IR sensor to analyze traffic density and control traffic indicators accordingly.

4.2 Ultrasonic Sensor (HC-SR04)

The HC-SR04 ultrasonic sensor is used to measure the distance between vehicles and the sensor. It works by transmitting ultrasonic sound waves and receiving the reflected waves from nearby objects.

By calculating the time taken for the sound waves to return, the sensor determines the distance of vehicles from the sensor. This information helps estimate traffic density and congestion levels.

4.3 IR Sensor Module

The IR (Infrared) sensor is used to detect the presence of vehicles on the road. It works by emitting infrared light and detecting the reflected light when an object passes in front of the sensor.
When a vehicle interrupts the infrared beam, the sensor sends a signal to the ESP32 indicating that a vehicle has been detected. This helps the system count vehicles and monitor traffic flow.

4.4 LEDs (Traffic Indicators)

LEDs are used in the system to indicate the traffic condition based on sensor readings.

- Green LED indicates smooth or low traffic flow.
- Yellow LED indicates moderate traffic conditions.

These LEDs provide a simple visual indication of traffic density at the monitoring point.

4.5 Breadboard and Jumper Wires

A breadboard is used to connect all electronic components without soldering. Jumper wires are used to establish electrical connections between the ESP32, sensors, and LEDs.
This setup allows easy modification and testing of the circuit during the development phase.

4.6 Circuit Diagram

1. The IR sensor detects when a vehicle passes the monitoring point.
2. The ultrasonic sensor measures the distance between vehicles.
3. The ESP32 processes the sensor data to estimate traffic density.
4. Based on the traffic level:
   - Green LED → Low traffic
   - Yellow LED → Moderate traffic
5. The system can also transmit traffic data to a cloud platform for monitoring and congestion prediction.

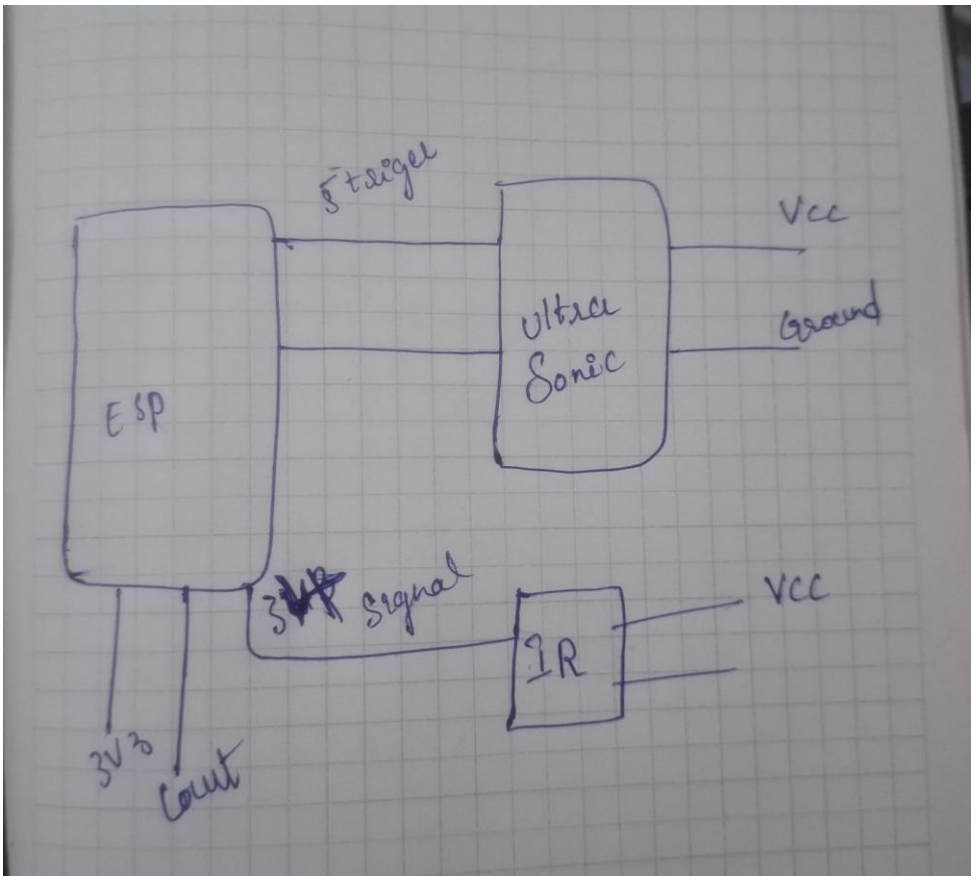

Figure 4.1: Circuit Diagram of IoT-Based Traffic Flow Monitoring System

5. IMPLEMENTATION DETAILS

This section explains how the IoT-Based Traffic Flow Monitoring System is implemented using sensors, a microcontroller, and communication technology. The system monitors vehicle movement and traffic density in real time using sensors connected to an ESP32 microcontroller. The ultrasonic sensor and IR sensor are used to detect vehicles and measure the distance between vehicles and the monitoring point. These sensors continuously collect traffic data from the road.

The ESP32 microcontroller processes the sensor readings and determines the traffic density based on the collected data. The system uses LED indicators to represent traffic conditions such as smooth traffic flow or moderate traffic.

The implementation includes hardware setup, software logic, system output, and data monitoring.

5.1 Implementation Platform

The hardware platform of the system includes ESP32 microcontroller, ultrasonic sensor, IR sensor, LEDs, and breadboard connections.
The ESP32 acts as the main controller that collects data from sensors and processes the information.
The IR sensor detects the presence of vehicles passing through the monitored road section. The ultrasonic sensor measures the distance between vehicles, which helps determine traffic density.
LED indicators are used to display traffic conditions. For example, a green LED indicates smooth traffic flow, while a yellow LED indicates moderate traffic conditions.
This hardware setup allows the system to monitor traffic conditions efficiently.



Figure 5.1: Hardware Setup of IoT-Based Traffic Flow Monitoring System

5.2 Software Logic

The software for the system is developed using Arduino IDE with Embedded C programming. The program controls the sensors, processes traffic data, and manages output indicators.

System Initialization

- Initialize ESP32 pins
- Initialize ultrasonic sensor and IR sensor
- Configure LED output pins

Sensor Data Acquisition

- Detect vehicle presence using IR sensor
- Measure distance using ultrasonic sensor

Traffic Density Analysis

Based on the sensor data, traffic conditions are classified into:

- Low Traffic
- Moderate Traffic
- High Traffic

Output Display

- Green LED turns ON when traffic flow is smooth
- Yellow LED turns ON when traffic density increases

This allows the system to provide a simple visual representation of traffic conditions.

5.3 Outputs

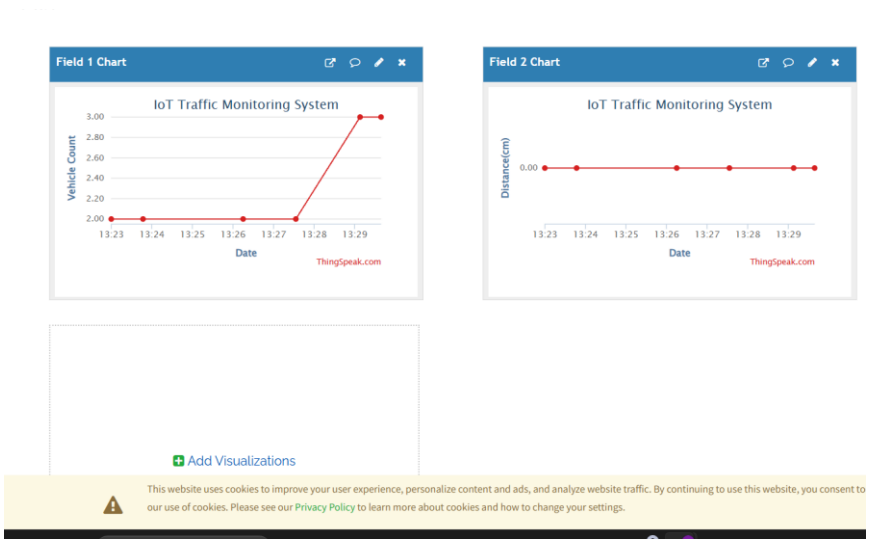

Figure 5.2: ThingSpeak Cloud Dashboard Showing Sensor Data

The system outputs are generated based on the sensor readings collected by the ESP32.
The LEDs display the current traffic condition detected by the sensors.

- When traffic is low, the green LED turns ON.
- When traffic density increases, the yellow LED turns ON.

This allows traffic conditions to be monitored directly from the device without requiring complex interfaces.

In future implementations, the traffic data can also be transmitted to a cloud platform where it can be visualized using graphs and dashboards for remote monitoring.

6. WORKING PRINCIPLE

The working principle of the IoT-Based Traffic Flow Monitoring System is based on detecting vehicles and measuring traffic density using sensors connected to a microcontroller.

The IR sensor is used to detect the presence of vehicles passing through the monitoring point. When a vehicle interrupts the infrared beam, the sensor sends a signal to the ESP32 microcontroller indicating that a vehicle has been detected.

The ultrasonic sensor measures the distance between the sensor and nearby vehicles using ultrasonic sound waves. The sensor emits ultrasonic pulses and calculates the distance by measuring the time taken for the echo to return.

The ESP32 microcontroller collects data from both sensors and processes the information to determine the traffic condition. Based on the sensor readings, the system identifies whether the traffic flow is low, moderate, or congested.

The system then activates LED indicators to represent the current traffic condition. This allows users to easily monitor traffic density in real time.

In advanced implementations, the traffic data can also be transmitted to a cloud platform for further analysis and remote monitoring

7. LIMITATIONS

Although the proposed system provides an effective solution for traffic monitoring, it has certain limitations.

- The system uses a limited number of sensors for detecting vehicles.
- Sensor accuracy may be affected by environmental conditions such as rain, dust, or extreme sunlight.
- The prototype is designed for small-scale implementation.
- The system currently provides only basic traffic indication using LEDs.

Despite these limitations, the system can be improved and expanded for larger smart city applications.

8. CONCLUSION

The IoT-Based Traffic Flow Monitoring and Congestion Prediction System provides a smart solution for monitoring traffic conditions in real time. The system uses sensors, microcontrollers, and indicator devices to detect vehicles and measure traffic density.

By analyzing the sensor data, the system can identify traffic flow conditions and provide visual indications through LEDs. This helps in understanding traffic congestion levels at monitored locations.

The proposed system is cost-effective, easy to implement, and scalable, making it suitable for smart traffic management applications. It can help reduce traffic congestion, improve road safety, and support the development of intelligent transportation systems.

9. FUTURE ENHANCEMENTS

The system can be further improved with additional features to enhance its functionality.
Future improvements include:

- Integration of camera-based vehicle detection systems
- Implementation of AI-based traffic congestion prediction
- Development of automatic traffic signal control systems
- Integration with mobile applications for real-time traffic monitoring
- Large-scale deployment in smart city traffic management systems

These enhancements can make the system more intelligent and capable of managing traffic in complex urban environments.